NAME OF CROSSING : Luni River

CLASSIFICATION : RIVER

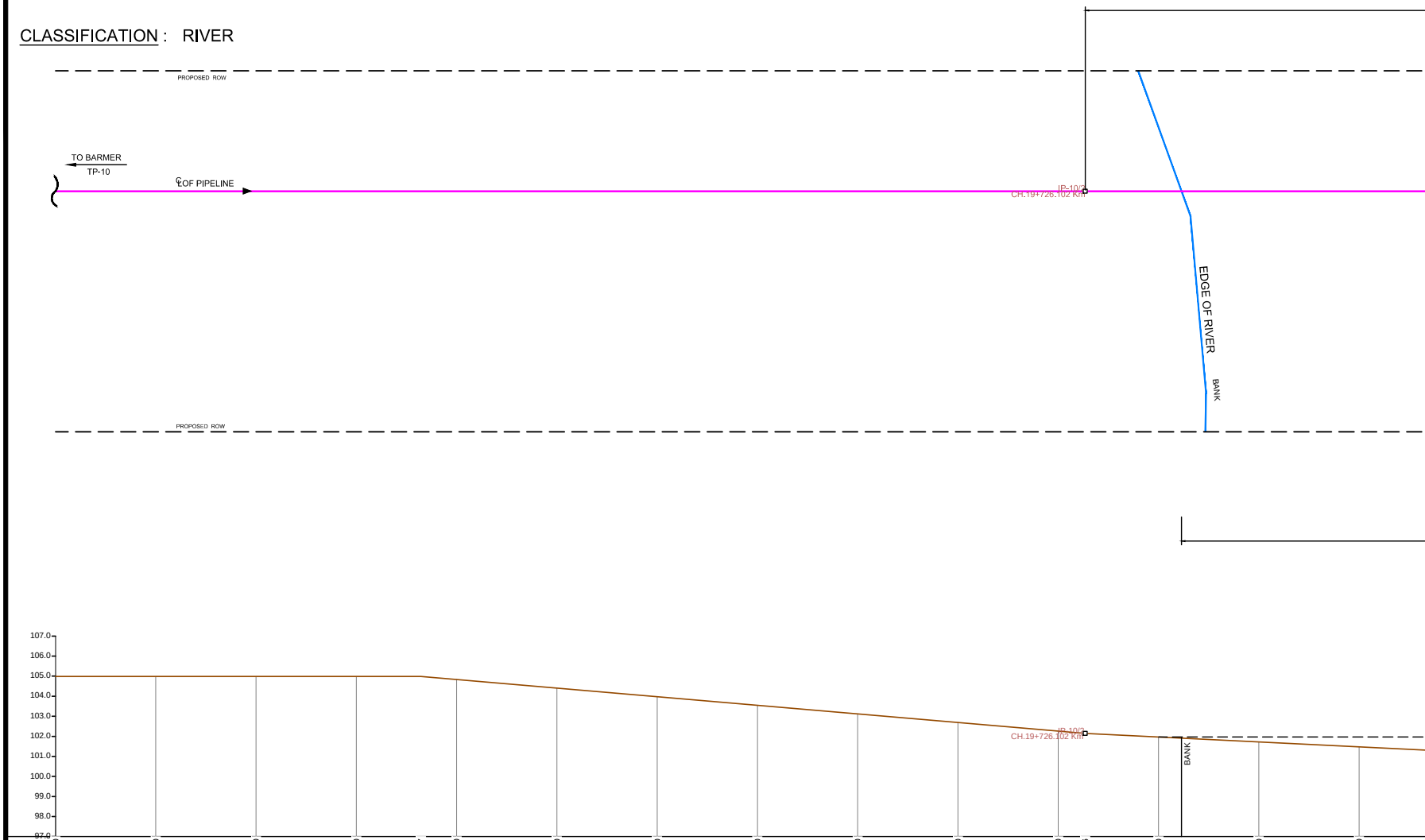
PROPOSED ROW
TO BARMER
TP-10
℄ OF PIPELINE
IP-10/2
CH.19+726.102 Km
EDGE OF RIVER
BANK
PROPOSED ROW
107.0
106.0
105.0
104.0
103.0
102.0
101.0
100.0
99.0
98.0
97.0
IP-10/2
CH.19+726.102 Km
BANK

OFFSET	-370.000	-365.000	-360.000	-355.000	-351.777	-350.000	-345.000	-340.000	-335.000	-330.000	-325.000	-320.000	-318.656	-315.000	-310.000	-305.000
EXISTING LEVEL	104.986	104.985	104.985	104.984	104.984	104.832	104.404	103.976	103.548	103.120	102.692	102.264	102.149	101.969	101.724	101.478

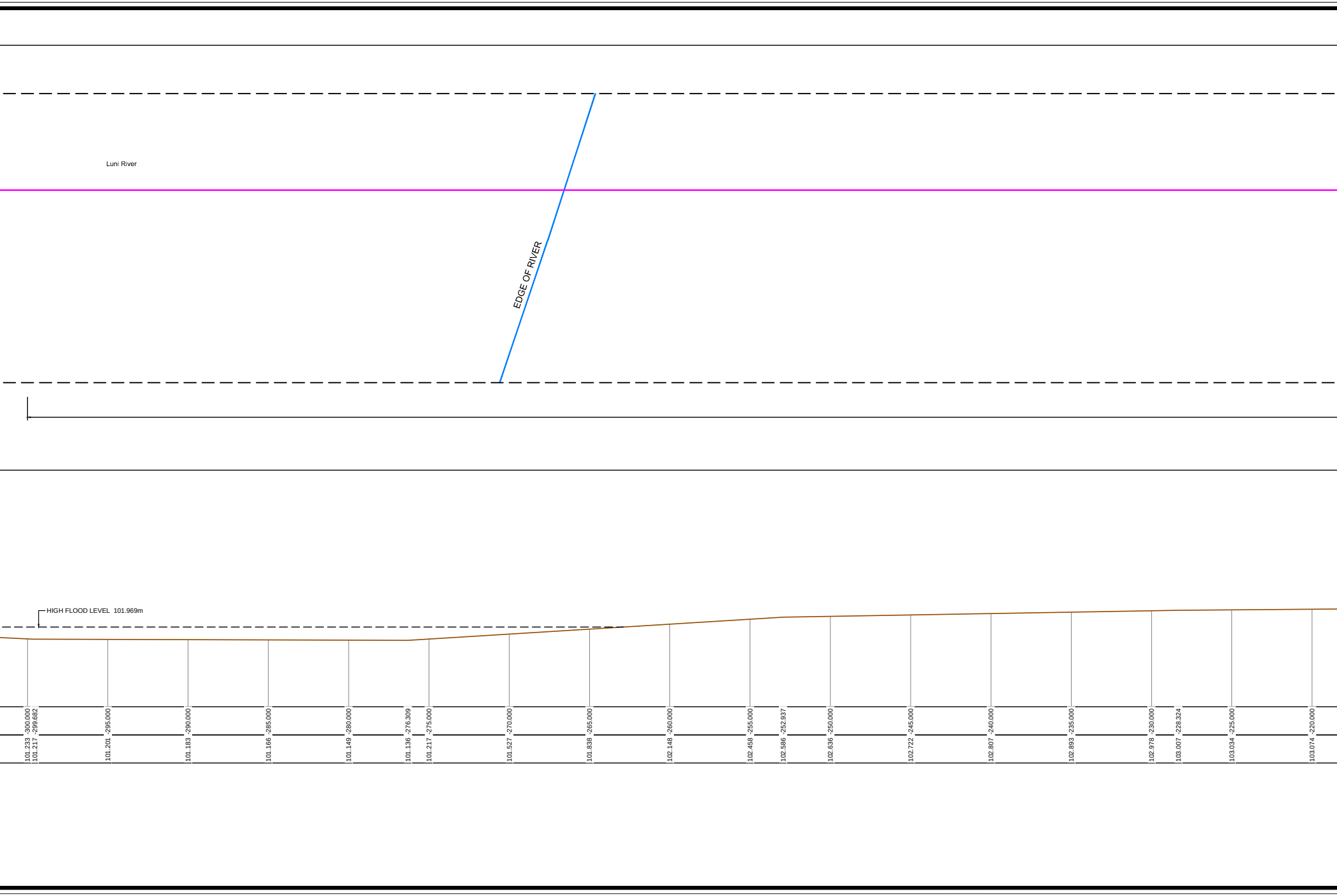
Luni River
EDGE OF RIVER
HIGH FLOOD LEVEL 101.969m
-300.000
-299.682
-295.000
-290.000
-285.000
-280.000
-276.309
-275.000
-270.000
-265.000
-260.000
-255.000
-252.937
-250.000
-245.000
-240.000
-235.000
-230.000
-228.324
-225.000
-220.000
101.233
101.217
101.201
101.183
101.166
101.149
101.136
101.217
101.527
101.838
102.148
102.458
102.586
102.636
102.722
102.807
102.893
102.978
103.007
103.034
103.074

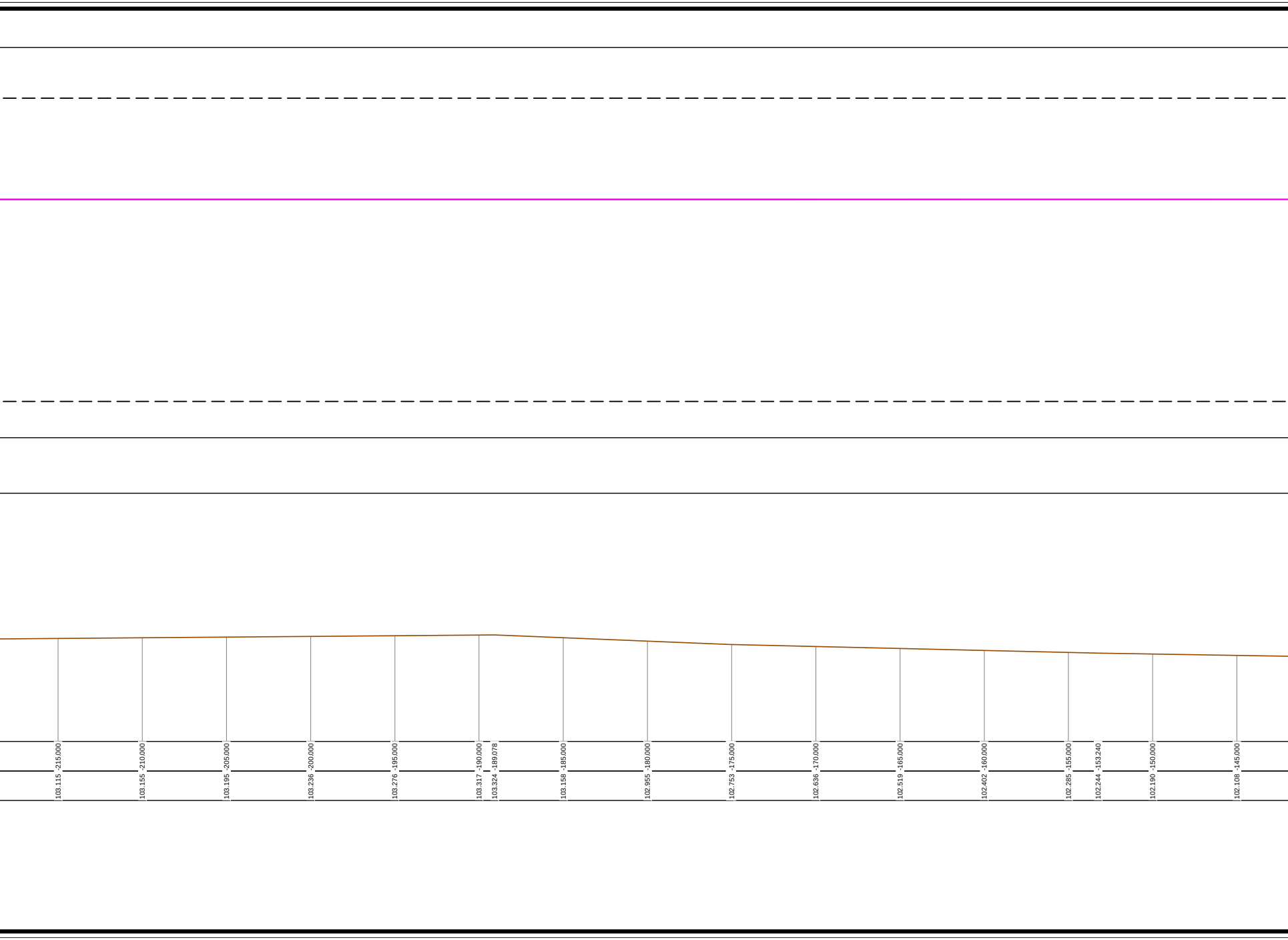
-215.000
103.115
-210.000
103.155
-205.000
103.195
-200.000
103.236
-195.000
103.276
-190.000
103.317
-189.078
103.324
-185.000
103.158
-180.000
102.955
-175.000
102.753
-170.000
102.636
-165.000
102.519
-160.000
102.402
-155.000
102.285
-153.240
102.244
-150.000
102.190
-145.000
102.108

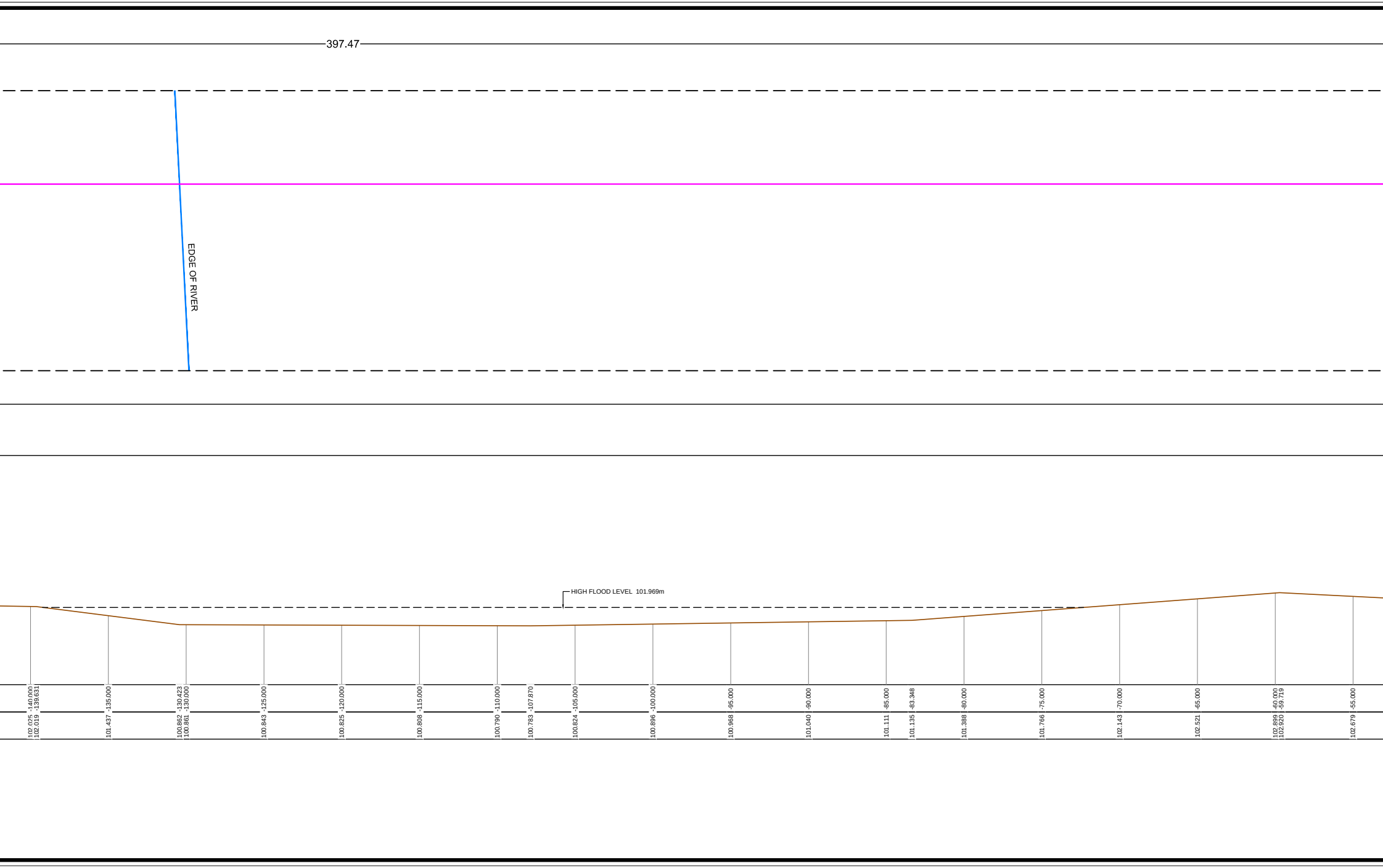
397.47
EDGE OF RIVER
HIGH FLOOD LEVEL 101.969m
-140.000 102.025
-139.631 102.019
-135.000 101.437
-130.423 100.862
-130.000 100.861
-125.000 100.843
-120.000 100.825
-115.000 100.808
-110.000 100.790
-107.870 100.783
-105.000 100.824
-100.000 100.896
-95.000 100.968
-90.000 101.040
-85.000 101.111
-83.348 101.135
-80.000 101.388
-75.000 101.766
-70.000 102.143
-65.000 102.521
-60.000 102.899
-59.719 102.920
-55.000 102.679

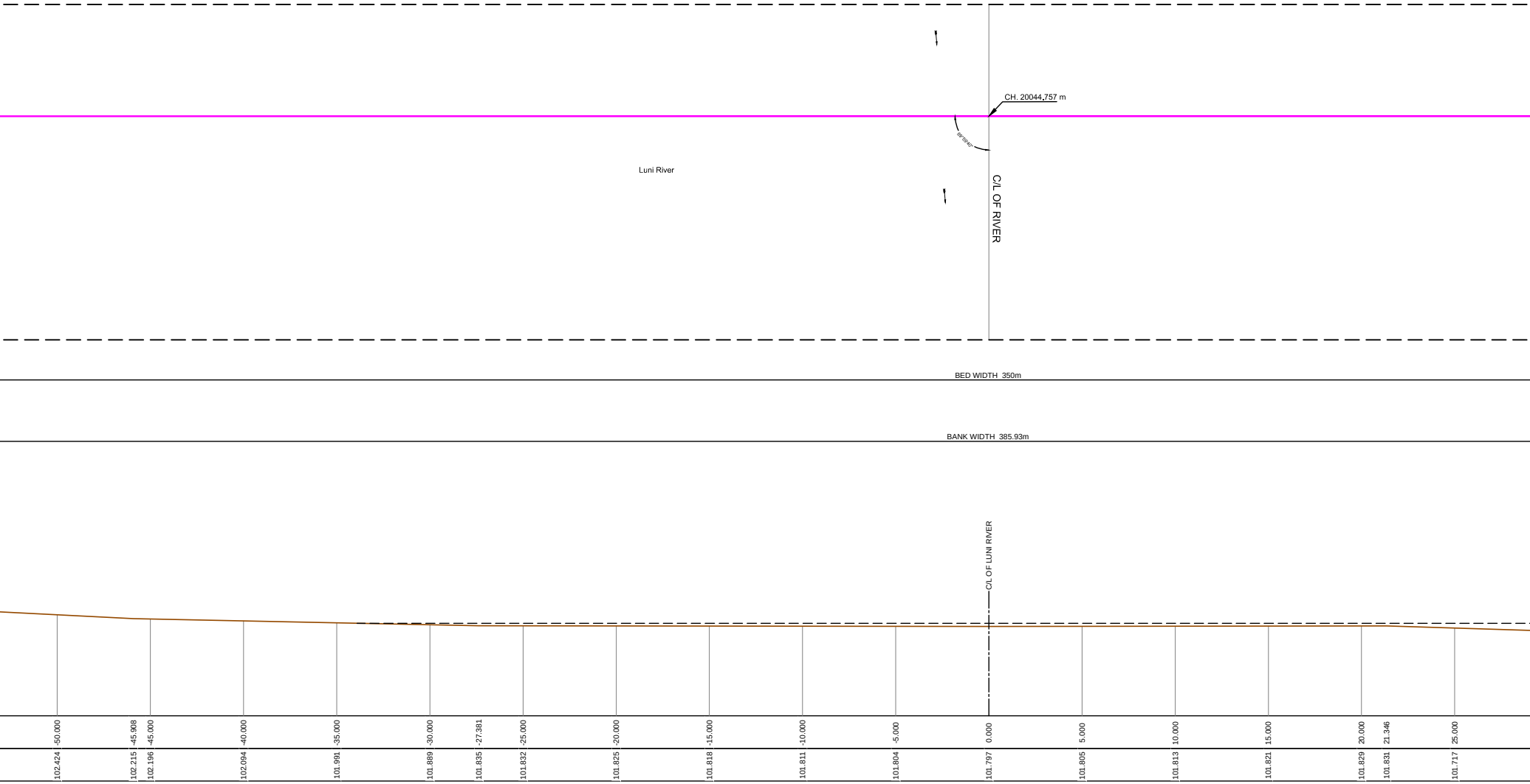
CH. 20044.757 m
89°59'40"
Luni River
C/L OF RIVER
BED WIDTH 350m
BANK WIDTH 385.93m
C/L OF LUNI RIVER

-50.000	-45.908	-45.000	-40.000	-35.000	-30.000	-27.381	-25.000	-20.000	-15.000	-10.000	-5.000	0.000	5.000	10.000	15.000	20.000	21.346
102.424	102.215	102.196	102.094	101.991	101.889	101.835	101.832	101.825	101.818	101.811	101.804	101.797	101.805	101.813	101.821	101.829	101.831

25.000	101.717

PROFILE

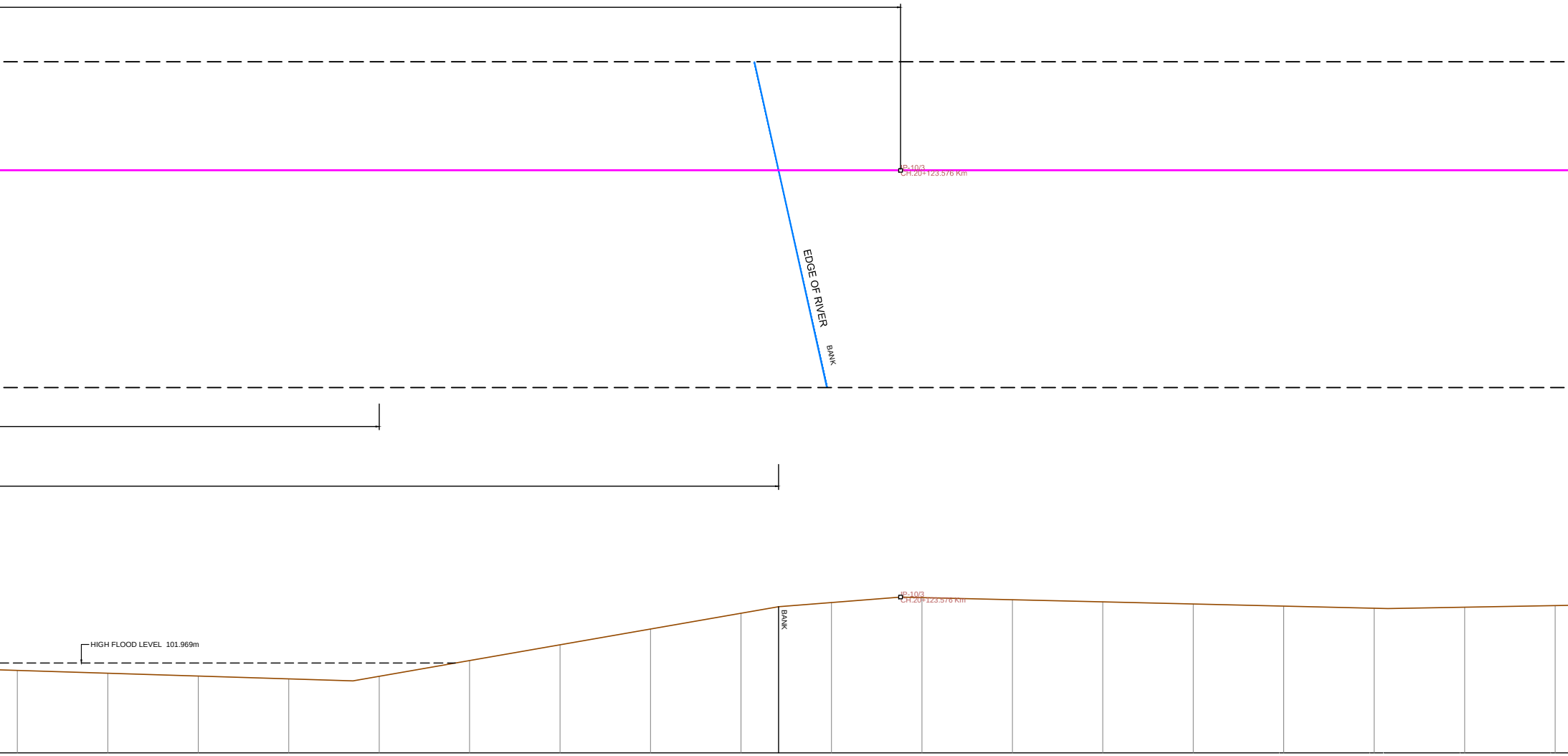
IP-10/3
CH.20+123.576 Km
EDGE OF RIVER
BANK
HIGH FLOOD LEVEL 101.969m
BANK
IP-10/3
CH.20+123.576 Km

30.000	35.000	40.000	45.000	48.548	50.000	55.000	60.000	65.000	70.000	72.078	75.000	78.819	80.000	85.000	90.000	95.000	100.000	105.000	105.759	110.000	115.000
101.561	101.405	101.249	101.094	100.983	101.236	102.106	102.976	103.845	104.715	105.077	105.309	105.613	105.585	105.466	105.347	105.229	105.110	104.991	104.973	105.049	105.138

CLIENT : Hindustan Petroleum Corporation Limited			PROJECT : - DETAIL ROUTE SURVEY BARMER PALANPUR PIPELINE SECTION : - (BARMER - PALANPUR SECTION)	
DWN / TCD.	APPROVED	DWG NO.	ROUTE MAP	NKBPL/HPCL/BPPL/ ROUTE MAP-1
DSND.			ALIGNMENT SHEET	NKBPL/HPCL/BPPL/ ALN SHEET-12
CHKD.	DATE :-	REV. 0	REF. DRAWING	NKBPL/HPCL/BPPL/ PLN- 12

SCALE : HOR.- 1:100
VER. - 1:100

HOR. 4 3 2 1 0 1 2 3 4m
VER.

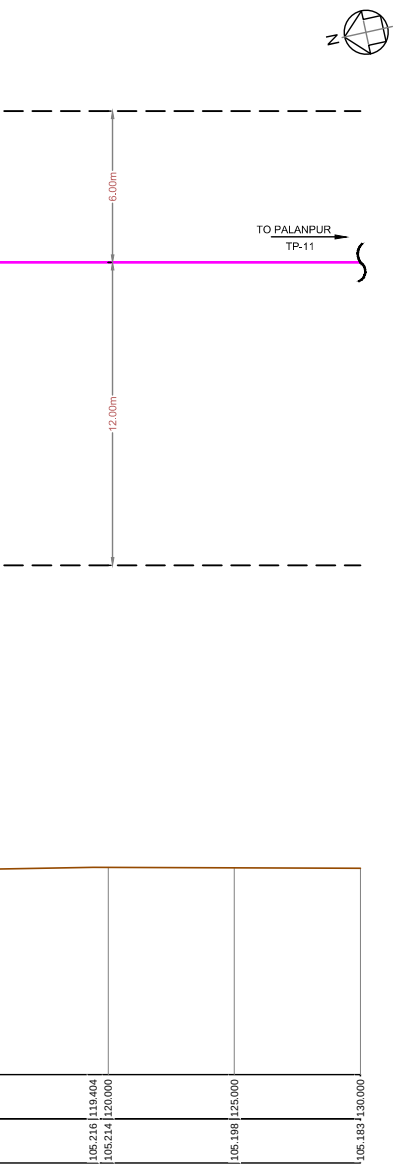
6.00m
12.00m
TO PALANPUR
TP-11
119.404
120.000
125.000
130.000
105.216
105.214
105.198
105.183

KEY PLAN
(Not to Scale)
RIVER (CH. 20.045 KM)

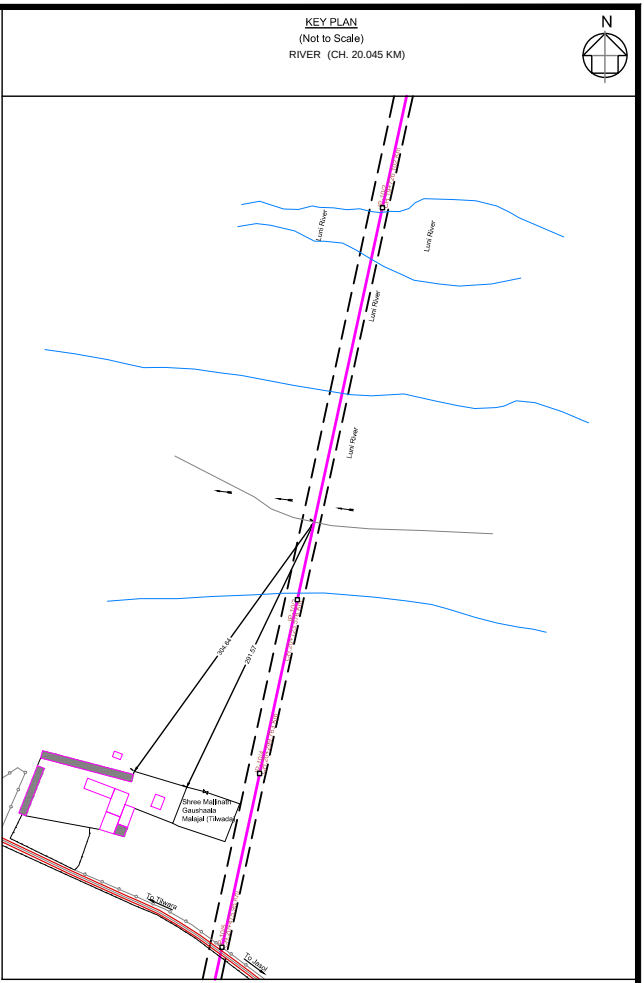
N
Luni River
Luni River
Luni River
Luni River
304.64
291.57
Shree Mallinath Gaushaala Malajal (Tilwada)
To Tilwara
To Jasol

LEGENDS & ABBREVIATIONS			
▬ ▬ ▬	PROPOSED ROW	▨	BUILDING
━━━	PROPOSED LINE	▭	TEMPORARY STRUCTURE
TP IP	TP IP	▭	COMPOUND WALL
● ●	ELECTRIC POLE / LINE	—×—	FENCING
TF	TRANSFORMER	—○—○—	FIELD BOUNDARY
⊕	LAMP POST	◎	MANHOLE
E	ELECTRIC BOX	WT	WATER TANK
⊠	HIGH TENSION LINE / POLE	H	HAND PUMP
	TEMPLE / MOSQUE	B	BORING/TUBE WELL
═	ROAD SIDE DRAIN	W	WELL

PREPARED & SUBMITTED BY:

N.K. BUILDCON (P) LTD.
(AN ISO 9001 CERTIFIED COMPANY)
B-62, University Marg, Bapu Nagar, Jaipur - 302015
Tel. : 91-141-2710841, 42, 43, email : nkbpl.barmer@gmail.com

NOTE : - ALL DIMENSIONS ARE IN METERS UNLESS STATED OTHERWISE

APPROVING AUTHORITY

				CROSSING DETAIL OF RIVER AT CH: 20.045 KM	DWG. NO.	REV.	PRO. ENG.	APPD BY
0	25.05.2020	UMESH	SURGYAN		NKBPL/HPCL/BPPL/CS/ 35	0	....	
REV	DATE	DRG. BY.	CHKD. BY					